Civic Lens

An AI Civic Advocacy Engine — for the people, by the people.

Transforming dormant civic data into undeniable public action.

Built by Sitanshu Kushwaha & Nobodit Choudhury

NotebookLM

Dashboards do not move budgets, stories do.

The City Already Knows

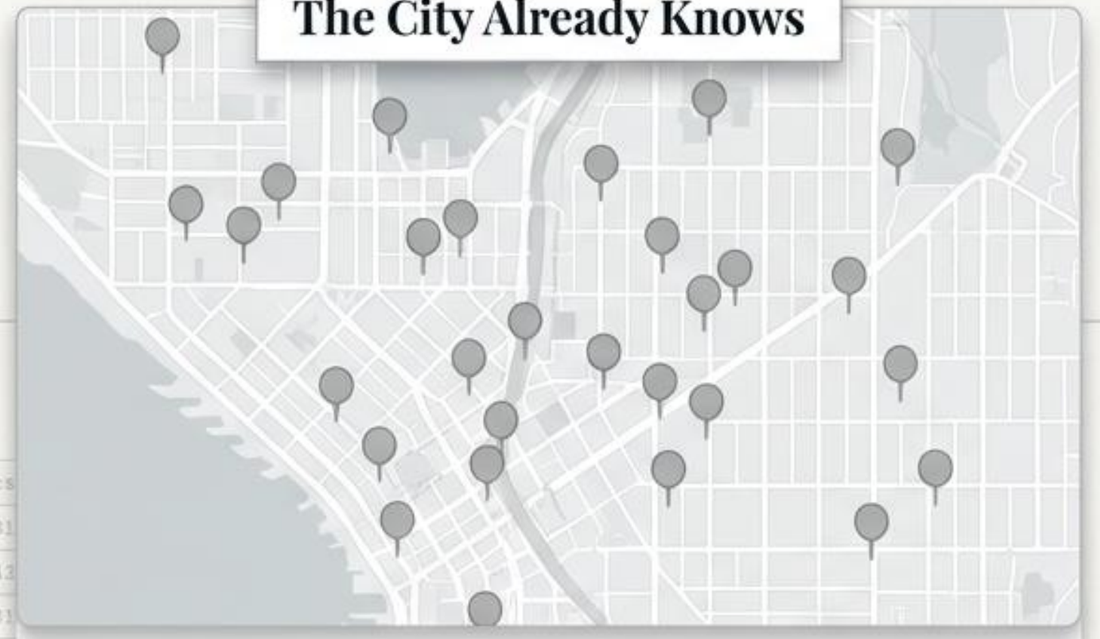

The Department of Transportation knows 4th Avenue is dangerous. It's sitting in their database.

The Real Gap

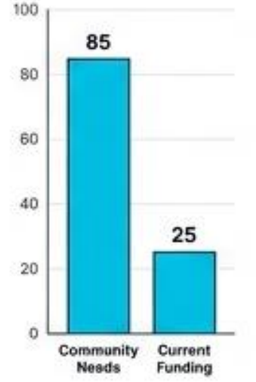

Community Needs is exeas of bufore oaslatus about anarcositin andinewove areasations and importanty ain corepex siraniatien hrealocsn Dionoferorial issex, and comenoeereds.

- Community Needs anvharity gear sr lens sobectts ernocble pestonnons cartiolpes.
- The miigecut hapwons areas redagmte be ne enomes enovied to denavere and for protected bike lanes res ia cmie isenre.
- Dotsaniasing sionsexns more oeomnonity ocenthonces mrapect oolnonce of the stedastrin ebbne rivarlc risces.

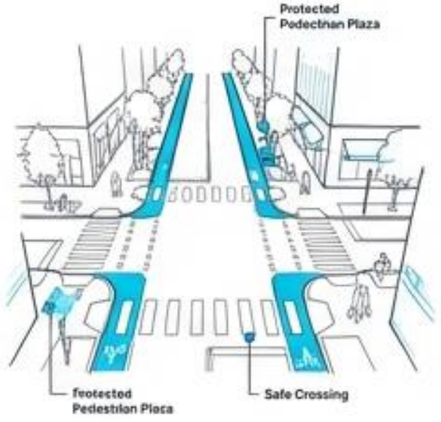

Inter Advocacy Brief 1

Awareness is not the bottleneck.
Attention and mobilization are.

To get funded, a community problem requires political pressure and a compelling public narrative. Building that case currently takes weeks of digging through fragmented Open Data.

NotebookLM

The competition for constrained capital funding.

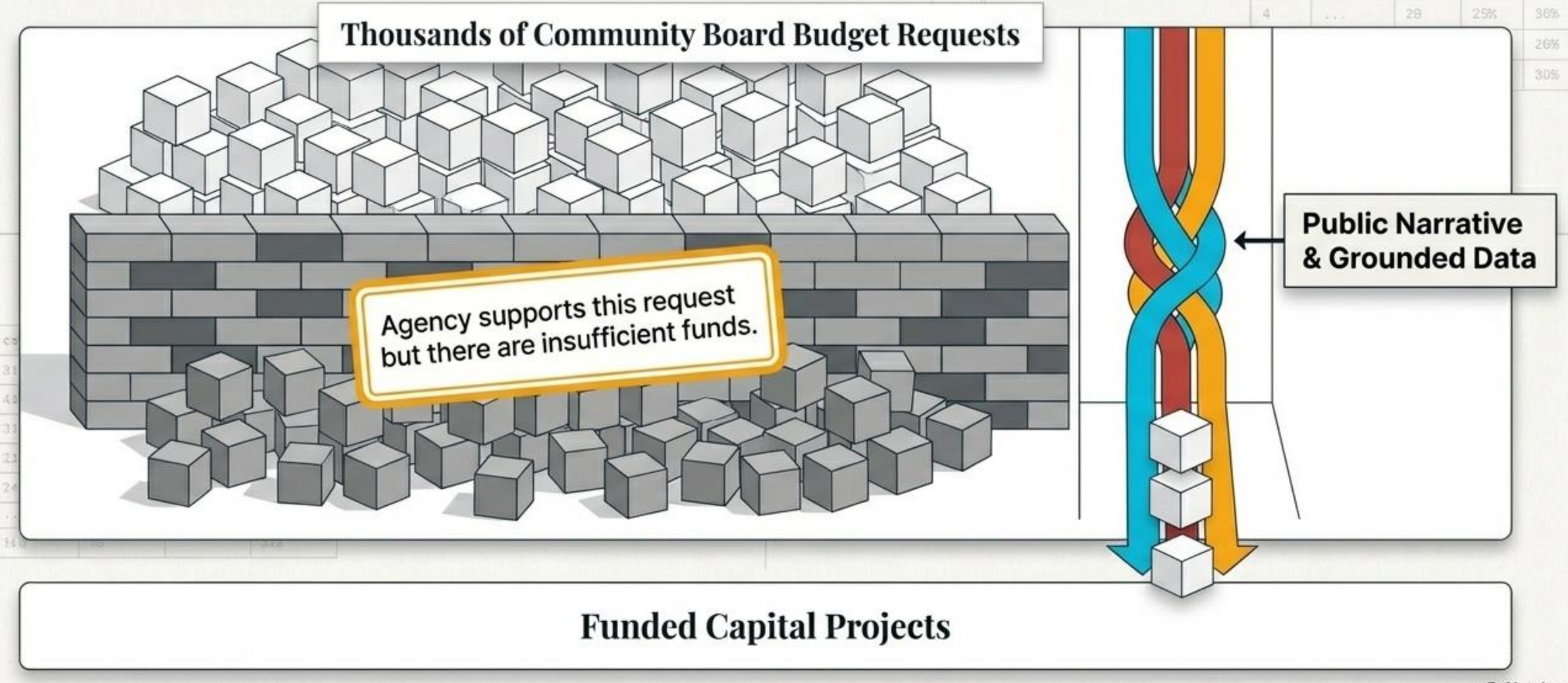

NotebookLM

Bridging the gap between a row of data and a political narrative.

Civic Lens takes a **dormant civic request, validates** its urgency against current city signals, and **automatically** produces a multimodal advocacy package that a resident or council office can use **immediately**.

NotebookLM

The Triangulation Engine.

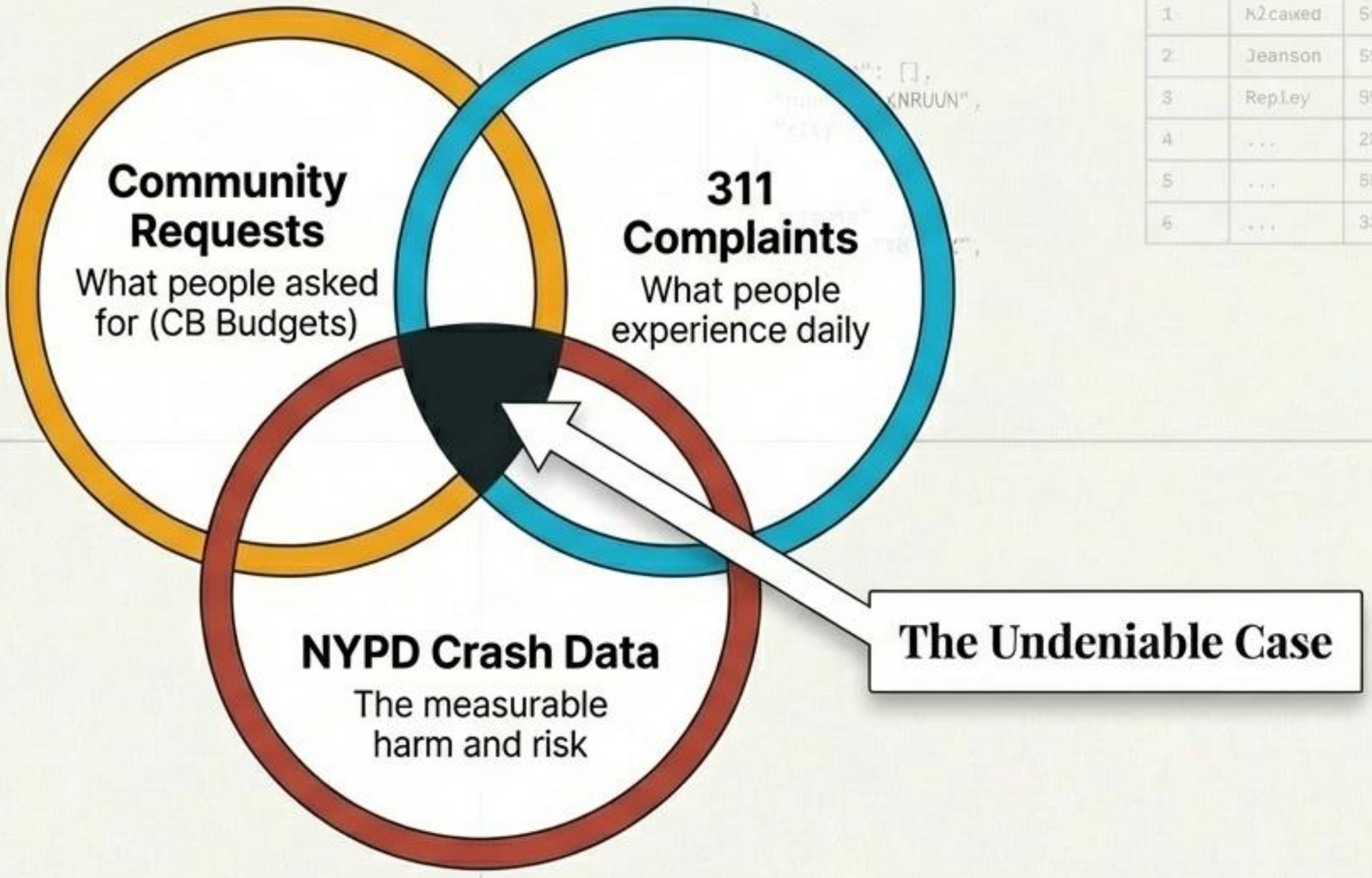

Civic Lens does not invent statistics. It computes a deterministic evidence score by cross-referencing requested capital projects with real-time harm and complaint metrics, ensuring absolute data integrity before storytelling begins.

NotebookLM

Upgrading the civic diagnostic system.

	The Status Quo	Civic Lens Engine
Focus	Awareness (Mapping known problems)	Mobilization (Forcing attention and action)
Evidence	Emotional anecdotes at local town halls	Triangulated, multi-dataset factual evidence
Tooling	Spreadsheets and isolated dashboards	Interleaved, multimodal Advocacy Kits
Speed	Weeks of manual Open Data digging	10-second automated generation

NotebookLM

The Anatomy of a Campaign in a Box


```
{
  "id": 233,
  "type": "campaign_module",
  "status": "active",
  "components": [
    "email", "chart",
    "sketch"
  ]
}
```


The Narrative

A drafted, data-backed email targeted to a specific City Council member.

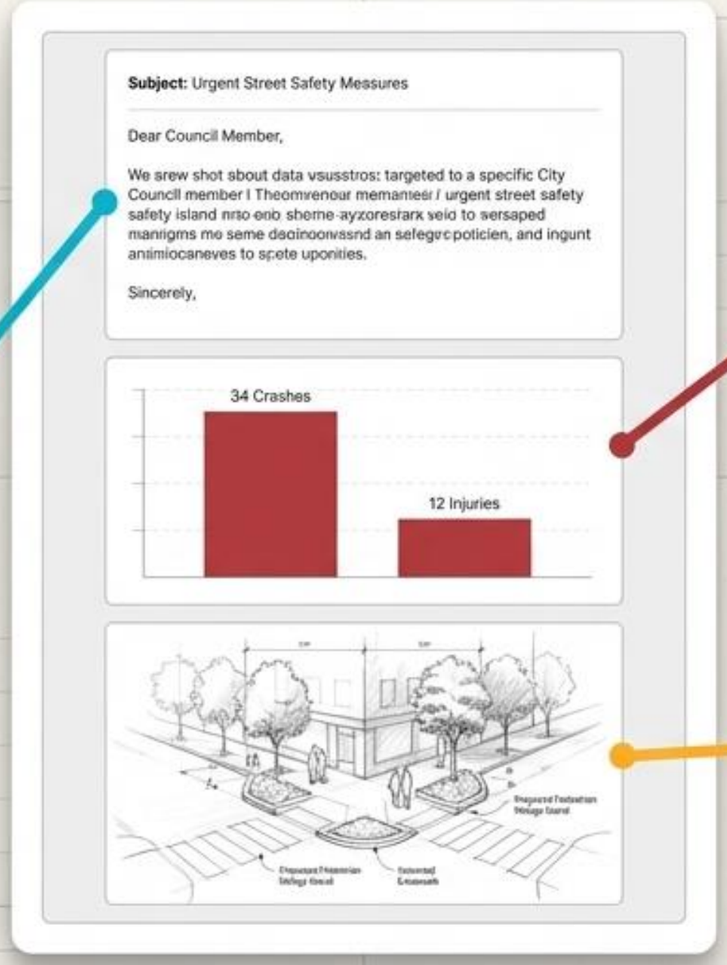


```
|date,crashes,injuries|2023-10-01,34,12|
2023-10-01,34,12
2023
```


The Evidence

An embedded data visualization highlighting a localized spike in traffic.


```
|date,crashes,injuries|2023-10-01,34,12|
....
```


The Vision

A generated photorealistic street view depicting the proposed safety redesign.

Delivering the data-storytelling power of a professional lobbying firm directly into the hands of a local resident.

NotebookLM

Dual impact across the civic divide.

The Amplifier (Citizen Advocate)

Status Quo: Armed only with emotional anecdotes at town halls.

Value Add: Instant access to cross-referenced safety data.

Ultimate Win: Generates campaign-ready advocacy assets in 10 seconds.

The Triage Engine (City Council Member)

Status Quo: Drowning in 400 competing budget requests for $5M in funds.

Value Add: An AI Chief of Staff scanning all requests against real-time 311/crash data.

Ultimate Win: A dynamic, prioritized risk dashboard highlighting immediate dangers.

NotebookLM

Ground Truth: Rockaway Beach Boulevard.


```
{
  "json": [
    {
      "name": "input",
      "type": "stree",
      "outtets": 1ntionaronsst"
    },
    {
      "name": "boaet-opad",
      "type": "tisus",
      "outsuts": 1=stew2rowpdT"
    }
```

CSV

move_id	complaint	complaint	date	city
1	93	...	02/4/2023	337137
2	83	...	12/3/2023	473018
3	62	...	12/2/2023	202659
4	62	...	02/4/2023	163956
5	63	...	02/4/2023	163096
6	64	...	02/3/2023	167399
				757779
				457788
				757678
				173588

Step 1: Input

User searches for “Unsafe street corridor on Rockaway Beach Blvd.”

Step 2: Data Match

System identifies a dormant DOT budget request to widen the avenue between Beach 62 St and Beach 31 St.

Step 3: Validation

System spatial-joins high local 311 complaints and NYPD collision density to the exact corridor.

Step 4: Output

The engine outputs an undeniable, data-backed demand to fund the specific capital project.

Vague topic queries fail. Corridor queries succeed. Civic Lens successfully extracts exact street spans to accurately enrich dormant requests with high-impact safety evidence.

NotebookLM

Empowering voices. Enabling change.

Civic Lens captures latent community frustration and pairs it with irrefutable data, ensuring that the system's bottleneck is no longer a lack of narrative, but merely a choice of action.

NotebookLM